**Betong International Airport**

**Report File Name:** 07000178.pac **Date of Report:** 26/05/2021 **Time of Report:** 09:36:29

**Way Name:** RUNWAY EDGE - 07L **Agent:** FBT_Sp *(Not Cross Checked)*

| Light ID | AVG(cd) | Max(cd) | %ICAO | Distance | C | S |
|---|---|---|---|---|---|---|
| 1 | 13961.42875 | 20498.04 | 97.16 | 1.39 | Y | ✓ |
| 2 | 15624.89250 | 20884.76 | 113.92 | 0.88 | G | ✗ |
| 3 | 14998.22125 | 20605.36 | 40.51 | 0.78 | R | ✓ |
| 4 | 15335.00500 | 18378.19 | 86.15 | 1.48 | R | ✓ |
| 5 | 16738.91500 | 20317.19 | 192.50 | 0.75 | R | ✓ |
| 6 | 15800.14125 | 19993.36 | 135.25 | 1.00 | W | ✓ |
| 7 | 15820.40000 | 21128.41 | 104.44 | 1.24 | G | ✗ |
| 8 | 11758.12500 | 15129.32 | 162.72 | 0.55 | G | ✗ |
| 9 | 13047.37500 | 21910.98 | 174.33 | 1.31 | W | ✓ |
| 10 | 12103.08500 | 16697.23 | 116.34 | 1.59 | G | ✗ |
| 11 | 13727.74250 | 17352.20 | 108.03 | 1.66 | R | ✓ |
| 12 | 14405.08875 | 18438.72 | 137.77 | 0.81 | R | ✓ |
| 13 | 12693.83250 | 18800.01 | 138.97 | 0.77 | G | ✓ |
| 14 | 15184.26875 | 21522.65 | 84.05 | 1.24 | Y | ✗ |
| 15 | 17159.43875 | 21090.29 | 108.51 | 0.57 | R | ✗ |

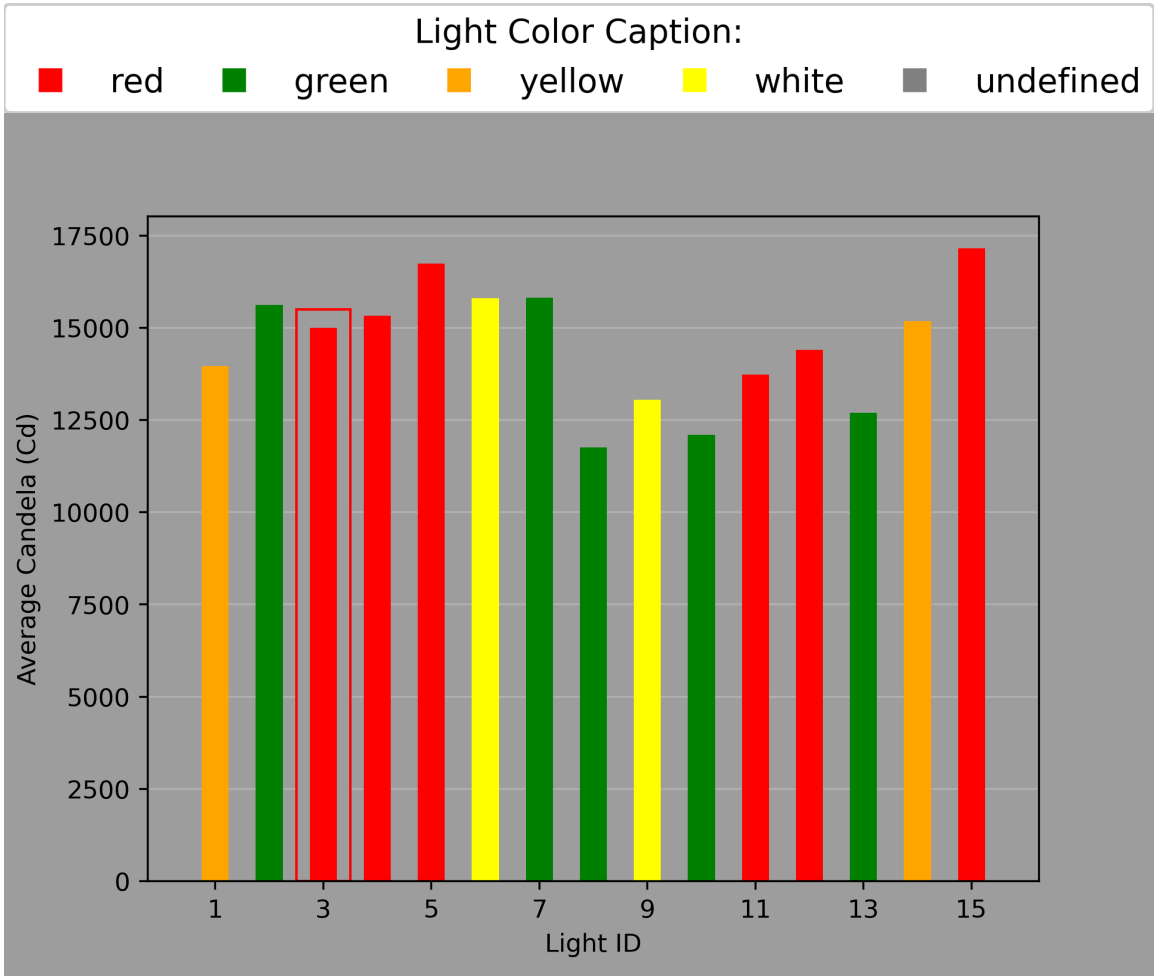

**Betong International Airport**

**Report File Name:** 07000178.pac **Date of Report:** 26/05/2021 **Time of Report:** 09:36:30

**Way Name:** RUNWAY EDGE - 07L **Agent:** FBT_Sp *(Not Cross Checked)*

| Light ID | AVG(cd) | Max(cd) | %ICAO | Distance | C | S |
|---|---|---|---|---|---|---|
| 16 | 16734.24375 | 20803.36 | 162.81 | 1.39 | Y | ✗ |
| 17 | 15606.98375 | 20744.32 | 185.64 | 0.93 | W | ✗ |
| 18 | 17179.67875 | 21645.36 | 110.39 | 0.70 | G | ✓ |
| 19 | 14638.83875 | 17332.84 | 114.44 | 0.91 | Y | ✓ |
| 20 | 15335.57875 | 21603.22 | 124.50 | 1.23 | G | ✓ |
| 21 | 16472.71000 | 21261.44 | 60.80 | 1.52 | R | ✓ |
| 22 | 15677.60750 | 20409.98 | 55.24 | 0.87 | R | ✗ |
| 23 | 14567.27750 | 20251.68 | 126.01 | 1.76 | R | ✗ |
| 24 | 15883.99750 | 21421.17 | 74.77 | 1.32 | G | ✓ |
| 25 | 14778.21375 | 21566.12 | 145.86 | 0.52 | G | ✗ |
| 26 | 15861.53375 | 21266.76 | 189.97 | 0.76 | R | ✓ |
| 27 | 17137.15250 | 21935.26 | 55.03 | 1.10 | Y | ✗ |
| 28 | 13999.14875 | 21903.65 | 40.67 | 1.27 | W | ✓ |
| 29 | 15431.56750 | 21721.82 | 61.98 | 1.35 | R | ✓ |
| 30 | 15446.92125 | 19551.34 | 155.43 | 1.53 | R | ✗ |

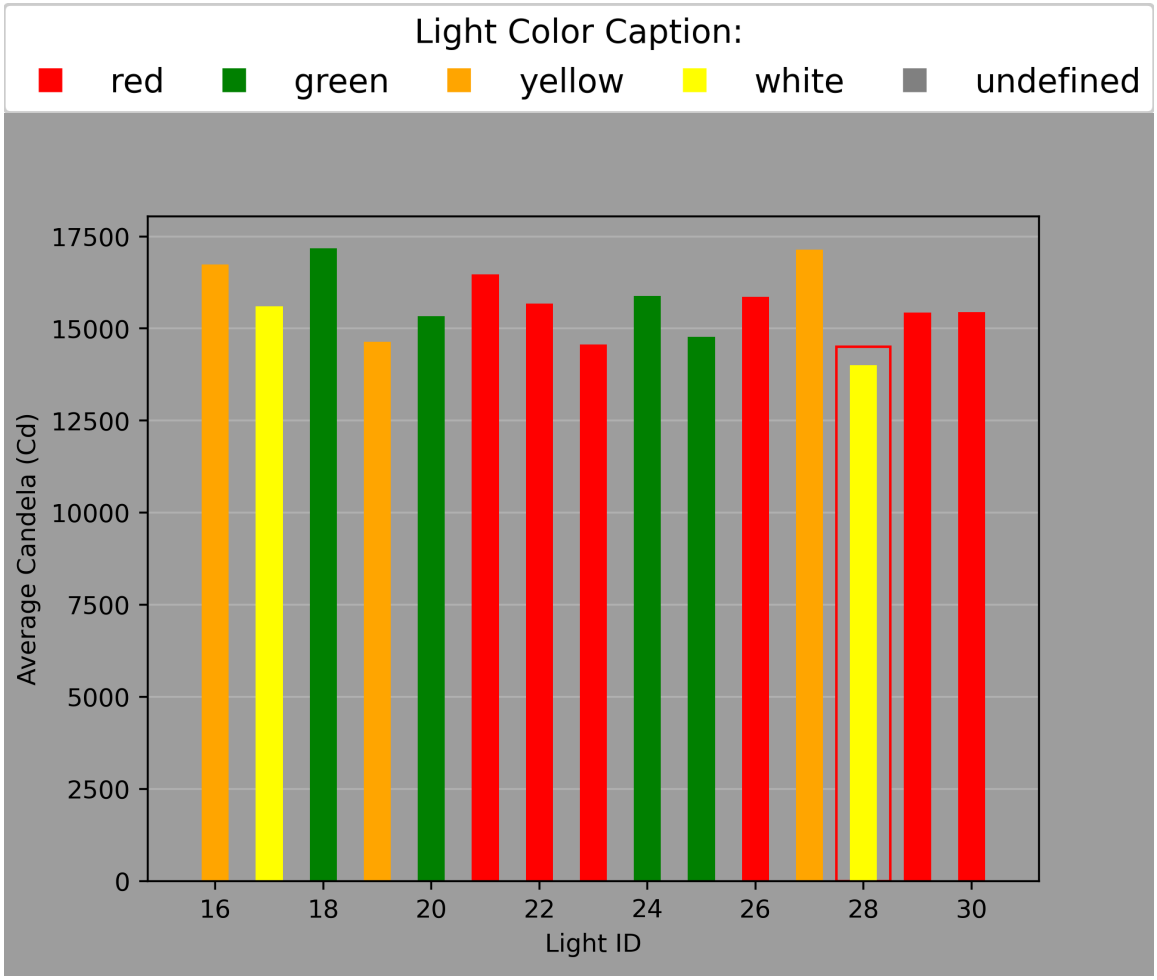

**Betong International Airport**

**Report File Name:** 07000178.pac **Date of Report:** 26/05/2021 **Time of Report:** 09:36:31

**Way Name:** RUNWAY EDGE - 07L **Agent:** FBT_Sp *(Not Cross Checked)*

| Light ID | AVG(cd) | Max(cd) | %ICAO | Distance | C | S |
|---|---|---|---|---|---|---|
| 31 | 16264.74250 | 21876.93 | 143.34 | 1.17 | R | ✗ |
| 32 | 16588.50125 | 20934.60 | 83.48 | 0.79 | G | ✓ |
| 33 | 15506.99625 | 21862.07 | 90.64 | 1.48 | R | ✗ |
| 34 | 16222.98250 | 21604.38 | 187.89 | 1.72 | W | ✗ |
| 35 | 13594.54375 | 20491.86 | 55.50 | 1.28 | Y | ✗ |
| 36 | 16219.70000 | 21797.66 | 151.53 | 0.82 | Y | ✓ |
| 37 | 15355.92000 | 20712.84 | 178.01 | 0.73 | G | ✓ |
| 38 | 14837.71250 | 19409.13 | 119.18 | 1.11 | W | ✓ |
| 39 | 14991.54125 | 21768.19 | 144.52 | 1.10 | G | ✓ |
| 40 | 14008.23125 | 20245.80 | 50.29 | 1.39 | W | ✗ |
| 41 | 13624.49750 | 18849.21 | 185.65 | 1.22 | W | ✓ |
| 42 | 14333.83500 | 19936.13 | 147.04 | 0.74 | G | ✗ |
| 43 | 13323.15750 | 19501.93 | 170.78 | 1.30 | R | ✓ |
| 44 | 15685.58250 | 21134.28 | 101.77 | 1.37 | Y | ✓ |
| 45 | 17576.96625 | 21493.95 | 187.98 | 1.69 | R | ✓ |

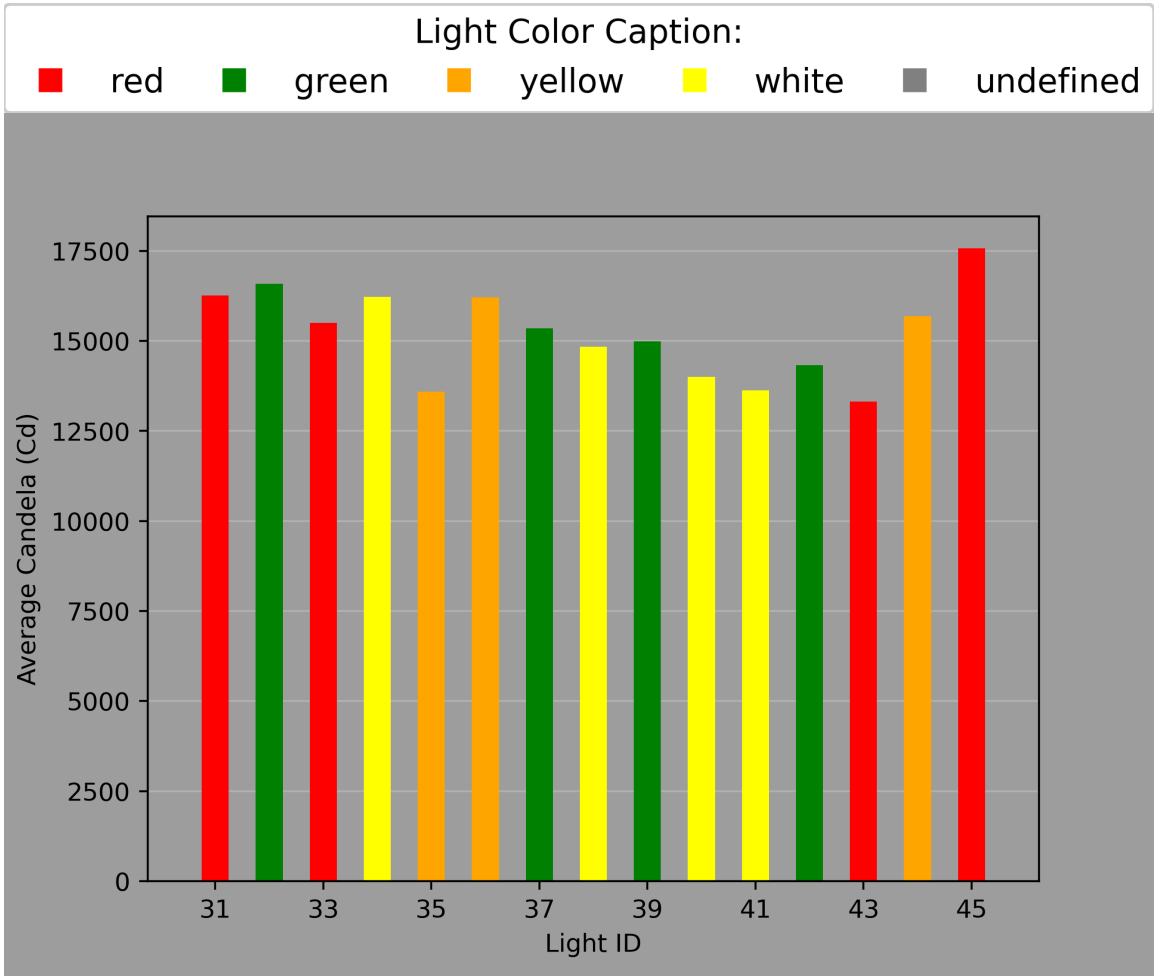

**Betong International Airport**

**Report File Name:** 07000178.pac **Date of Report:** 26/05/2021 **Time of Report:** 09:36:32

**Way Name:** RUNWAY EDGE - 07L **Agent:** FBT_Sp *(Not Cross Checked)*

| Light ID | AVG(cd) | Max(cd) | %ICAO | Distance | C | S |
|---|---|---|---|---|---|---|
| 46 | 14715.42750 | 20776.07 | 51.65 | 1.19 | W | ✓ |
| 47 | 14637.59500 | 20481.22 | 75.22 | 1.17 | G | ✓ |
| 48 | 15630.13375 | 19412.82 | 163.16 | 1.53 | Y | ✓ |
| 49 | 13218.99625 | 18932.77 | 168.11 | 1.20 | Y | ✓ |
| 50 | 16519.20000 | 21764.28 | 43.00 | 0.81 | Y | ✓ |
| 51 | 15744.78875 | 21480.02 | 76.98 | 1.34 | W | ✓ |
| 52 | 18088.35000 | 21518.35 | 46.60 | 1.53 | R | ✓ |
| 53 | 16096.81625 | 21160.32 | 176.48 | 0.87 | R | ✗ |
| 54 | 13251.24000 | 17615.00 | 87.47 | 0.51 | Y | ✓ |
| 55 | 17075.55125 | 21510.32 | 143.13 | 1.20 | R | ✗ |
| 56 | 16399.81625 | 21255.44 | 56.05 | 0.64 | Y | ✓ |
| 57 | 13223.30500 | 20891.07 | 105.63 | 1.16 | G | ✓ |
| 58 | 16359.08625 | 21055.61 | 84.12 | 0.59 | R | ✗ |
| 59 | 14175.01750 | 19231.75 | 59.37 | 0.86 | Y | ✗ |
| 60 | 13953.47250 | 18308.12 | 140.42 | 1.06 | G | ✗ |

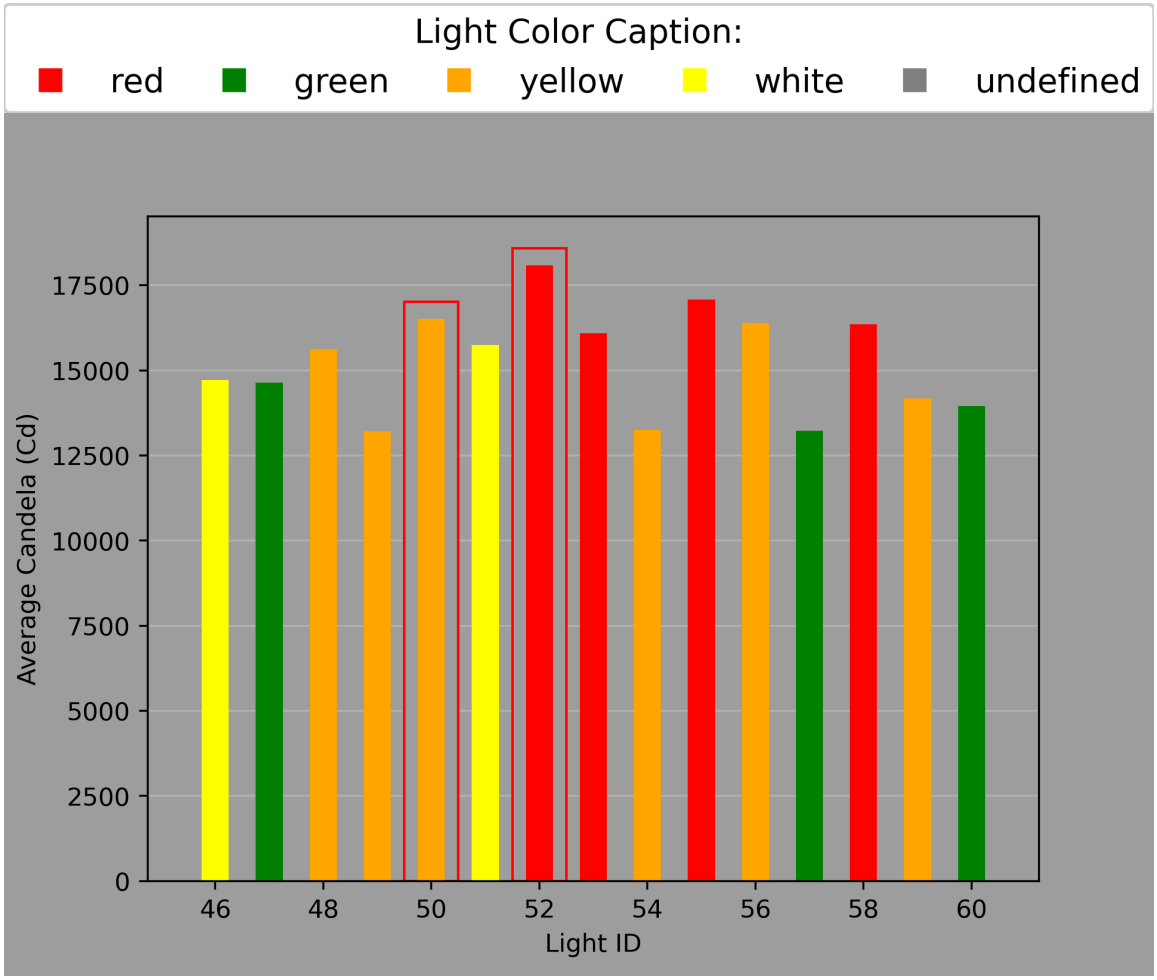

**Betong International Airport**

**Report File Name:** 07000178.pac **Date of Report:** 26/05/2021 **Time of Report:** 09:36:33

**Way Name:** RUNWAY EDGE - 07L **Agent:** FBT_Sp *(Not Cross Checked)*
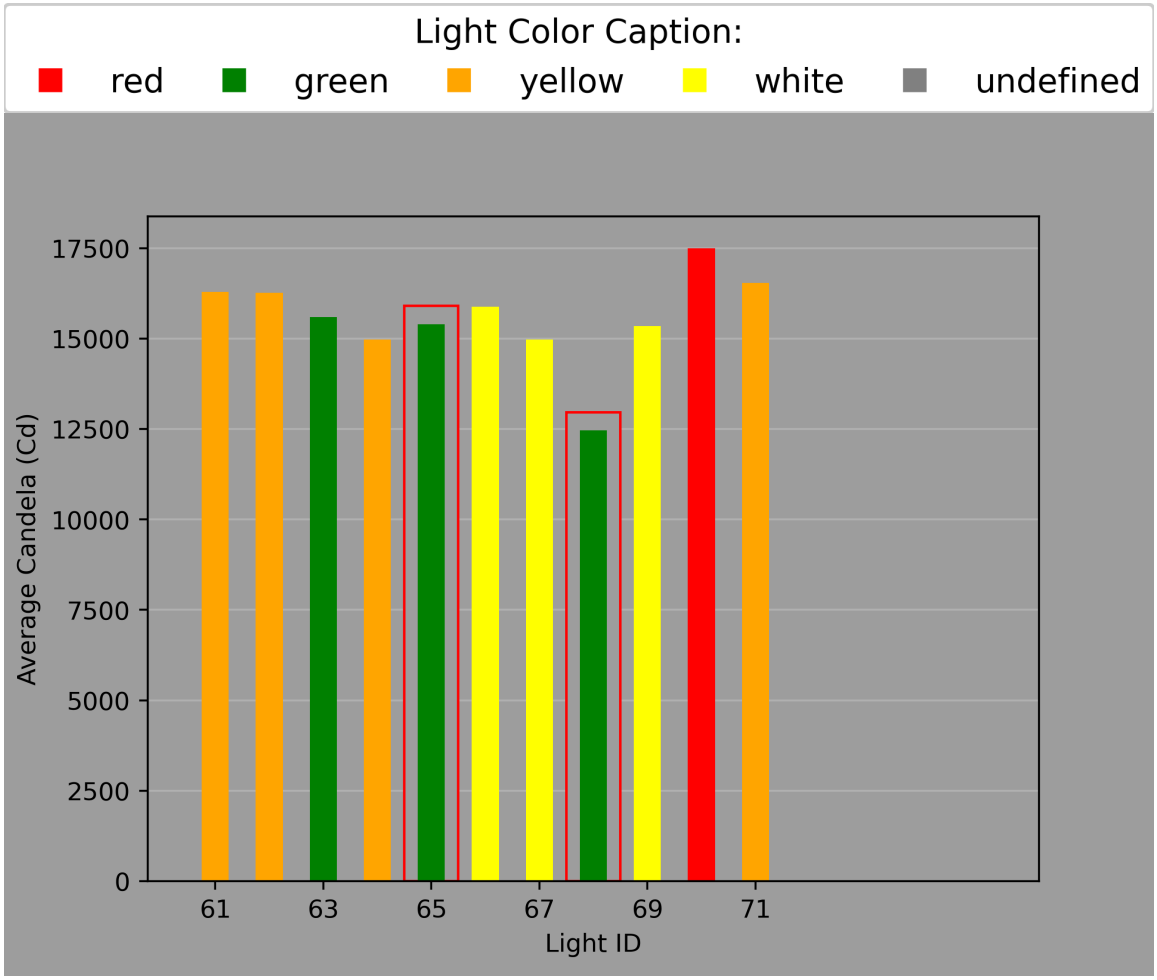
| Light ID | AVG(cd) | Max(cd) | %ICAO | Distance | C | S |
|---|---|---|---|---|---|---|
| 61 | 16290.80375 | 21425.79 | 192.38 | 1.76 | Y | ✓ |
| 62 | 16271.82250 | 20748.29 | 148.77 | 1.36 | Y | ✓ |
| 63 | 15594.32000 | 21228.52 | 133.40 | 0.95 | G | ✓ |
| 64 | 14978.91625 | 19553.42 | 86.95 | 0.64 | Y | ✗ |
| 65 | 15403.90625 | 20587.25 | 46.51 | 0.82 | G | ✓ |
| 66 | 15879.70375 | 20294.02 | 77.18 | 0.92 | W | ✓ |
| 67 | 14973.75625 | 21634.30 | 64.48 | 1.05 | W | ✓ |
| 68 | 12461.97000 | 15606.77 | 46.74 | 1.60 | G | ✓ |
| 69 | 15353.92625 | 20981.19 | 100.62 | 1.16 | W | ✓ |
| 70 | 17502.07750 | 21942.88 | 114.01 | 0.58 | R | ✗ |
| 71 | 16544.07125 | 20796.31 | 197.90 | 1.65 | Y | ✓ |