Betong International Airport

Report File Name: 07000178.pac **Date of Report:** 21/06/2021 **Time of Report:** 18:06:49

Way Name: RUNWAY EDGE - 07L **Agent:** FBT_Sp *(Not Cross Checked)*

Light ID	AVG(cd)	Max(cd)	%ICAO	Distance	C	S
1	15038.71125	21614.06	65.09	1.31	Y	✗
2	13271.26875	21341.61	132.04	1.34	G	✗
3	14775.69250	20763.38	113.84	1.51	Y	✓
4	17165.61125	21694.81	70.31	1.13	R	✓
5	16076.53500	19964.26	174.47	1.72	Y	✗
6	14692.35250	20362.30	51.09	1.59	W	✗
7	15556.35375	21906.02	188.24	0.79	W	✓
8	15392.45250	19961.61	193.45	1.52	W	✗
9	13764.17250	19611.78	92.50	0.65	G	✓
10	16025.76625	21564.36	77.31	1.15	G	✓
11	15817.56750	21510.09	99.08	0.98	G	✗
12	16605.78750	21389.83	66.20	0.84	W	✓
13	15536.99125	21928.80	137.35	0.64	Y	✓
14	13638.79375	16405.84	112.34	0.70	R	✓
15	15227.25125	19302.48	86.74	0.94	R	✗

Light Color Caption:
red green yellow white undefined

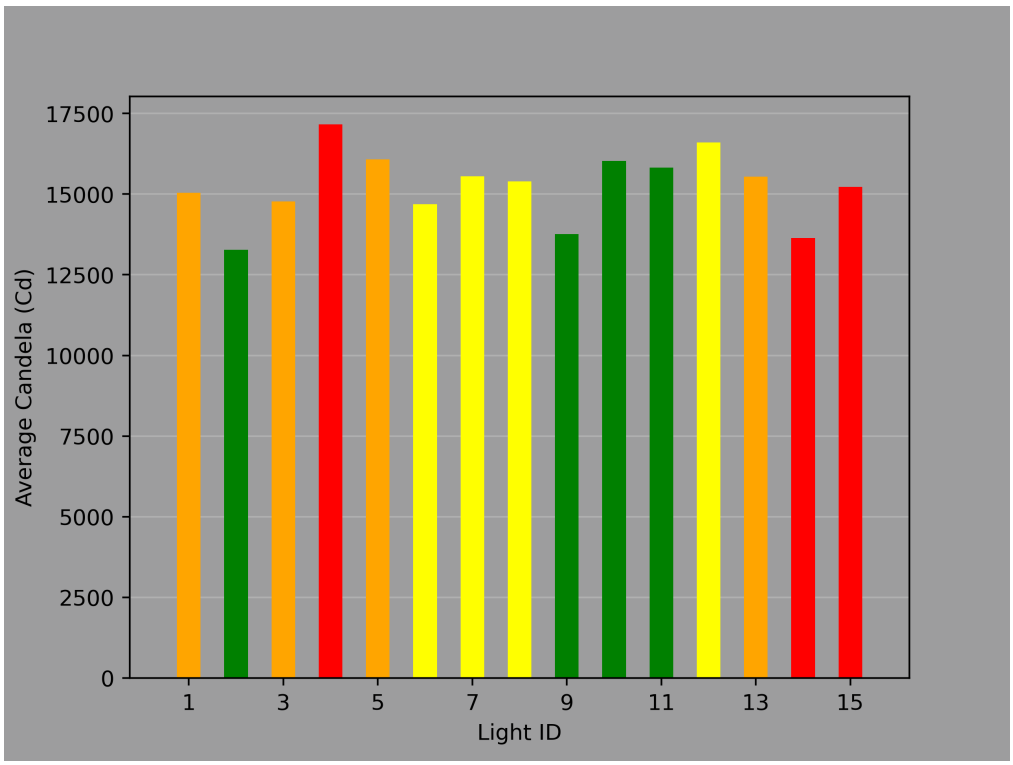

Betong International Airport

Report File Name: 07000178.pac **Date of Report:** 21/06/2021 **Time of Report:** 18:06:50

Way Name: RUNWAY EDGE - 07L **Agent:** FBT_Sp *(Not Cross Checked)*

Light ID	AVG(cd)	Max(cd)	%ICAO	Distance	C	S
16	12505.41500	19671.78	117.64	1.05	G	✓
17	14704.11125	20590.52	102.90	1.55	Y	✓
18	13894.76125	17173.44	129.67	1.39	G	✓
19	16222.78750	21943.98	125.35	1.54	W	✓
20	15198.97250	21094.91	52.36	0.98	Y	✓
21	14840.02750	21973.10	69.09	0.58	W	✓
22	15710.42750	21393.45	110.88	1.31	W	✓
23	13027.21250	19387.42	109.51	0.52	R	✗
24	16334.68750	21715.72	94.68	1.04	R	✓
25	17539.61625	21645.40	186.76	1.15	W	✓
26	11887.34000	15426.75	95.13	0.59	W	✗
27	12290.57625	14900.26	68.04	0.97	Y	✗
28	16792.51500	21673.82	146.81	0.93	G	✓
29	14652.07750	20255.52	176.53	0.52	W	✗
30	15426.22500	21816.75	130.90	1.06	Y	✗

Light Color Caption:
red green yellow white undefined

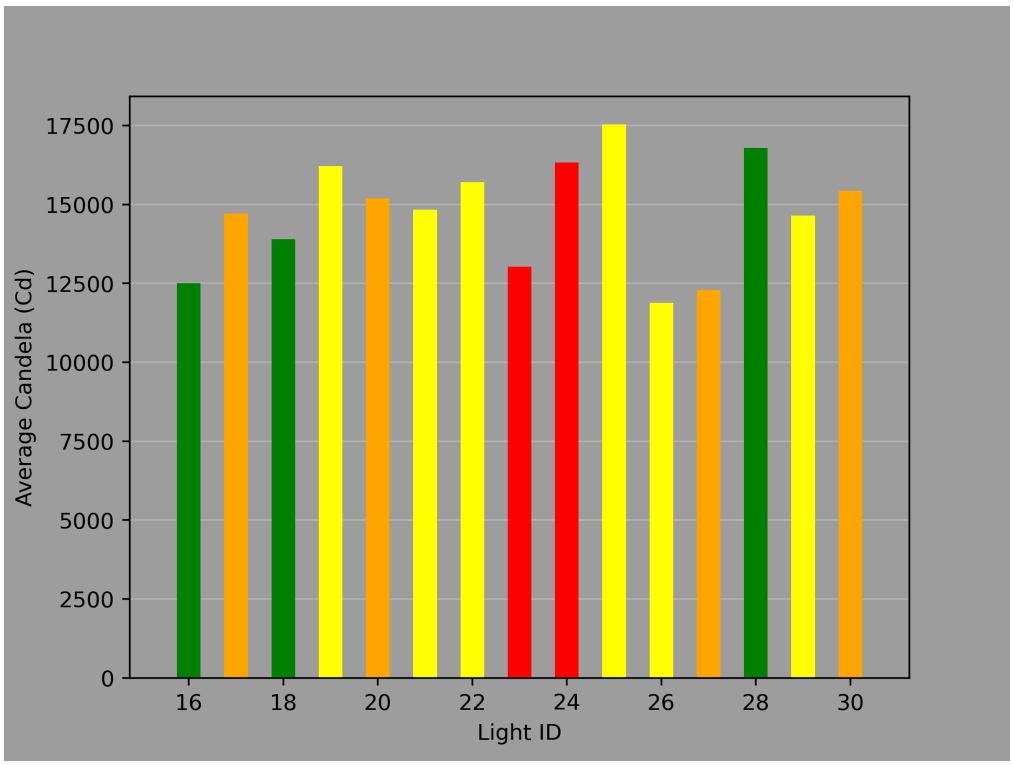

Betong International Airport

Report File Name: 07000178.pac **Date of Report:** 21/06/2021 **Time of Report:** 18:06:51

Way Name: RUNWAY EDGE - 07L **Agent:** FBT_Sp *(Not Cross Checked)*

Light ID	AVG(cd)	Max(cd)	%ICAO	Distance	C	S
31	14215.09000	21721.80	95.49	1.67	G	✓
32	16121.37875	20062.05	44.77	0.66	G	✗
33	14628.95750	21136.51	95.00	1.39	Y	✗
34	18268.02250	21246.56	91.82	0.96	Y	✓
35	15640.69000	19838.15	41.80	1.19	G	✓
36	14979.11750	20333.08	53.99	1.31	W	✓
37	18319.92125	21910.37	96.14	1.14	R	✓
38	14895.98250	20430.08	157.65	0.53	G	✓
39	15403.74625	21856.86	105.70	1.52	G	✓
40	16331.14750	21868.51	60.90	1.07	R	✓
41	17014.40375	21179.86	144.26	1.46	R	✓
42	16626.22000	21974.72	91.09	0.59	Y	✓
43	14917.98000	21682.04	143.09	1.50	R	✗
44	14670.43375	19935.77	78.16	1.17	Y	✗
45	14858.55125	21192.39	46.18	1.80	G	✗

Light Color Caption:
red green yellow white undefined

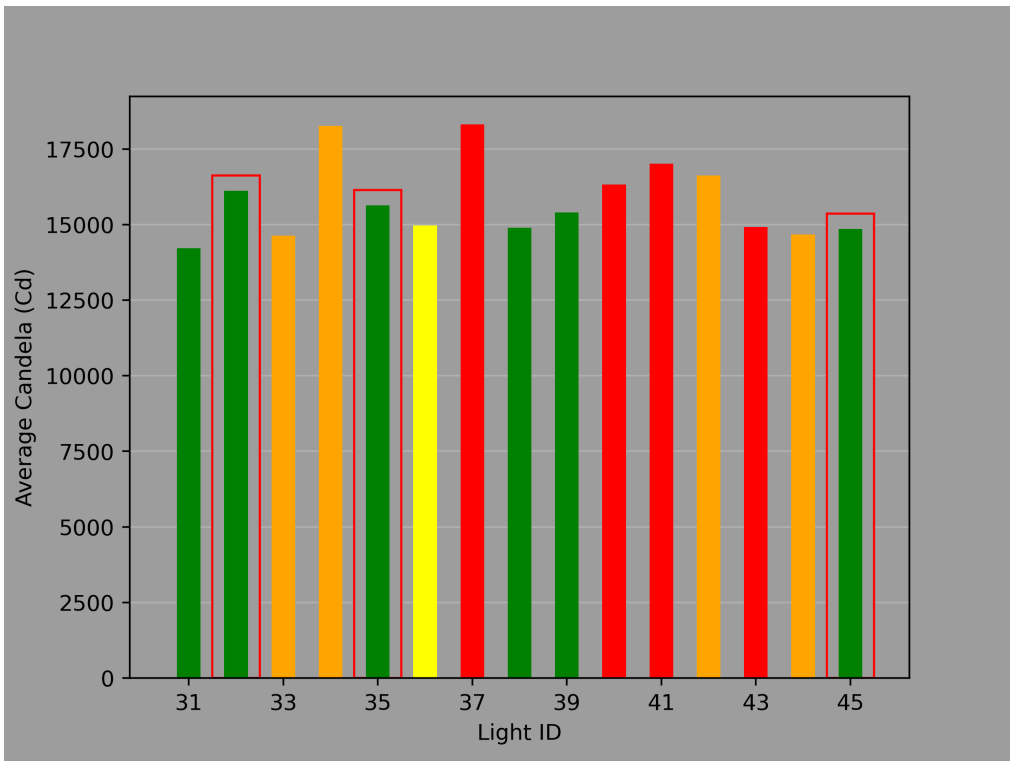

Betong International Airport

Report File Name: 07000178.pac **Date of Report:** 21/06/2021 **Time of Report:** 18:06:52

Way Name: RUNWAY EDGE - 07L **Agent:** FBT_Sp *(Not Cross Checked)*

Light ID	AVG(cd)	Max(cd)	%ICAO	Distance	C	S
46	16582.95000	20476.06	124.50	1.40	W	✓
47	13873.33125	20343.46	196.79	1.20	Y	✗
48	14267.58875	19861.43	168.51	1.02	G	✗
49	16137.81250	21665.28	138.08	1.71	Y	✓
50	13149.54250	21058.96	88.57	1.26	W	✗
51	14547.44750	19310.44	158.63	0.52	Y	✓
52	17597.81125	21955.25	88.43	0.91	W	✓
53	14374.62625	20473.32	147.73	1.33	Y	✗
54	19236.89000	21895.45	94.28	1.66	G	✓
55	13606.32250	17943.52	143.87	0.57	Y	✓
56	16703.08000	21639.67	193.95	1.63	G	✗
57	12796.37750	18580.21	58.19	1.62	R	✓
58	15253.30000	21670.20	183.50	1.34	R	✗
59	14158.67625	21273.38	40.01	1.05	R	✓
60	17320.46250	21478.43	57.96	1.09	Y	✓

Light Color Caption:
red green yellow white undefined

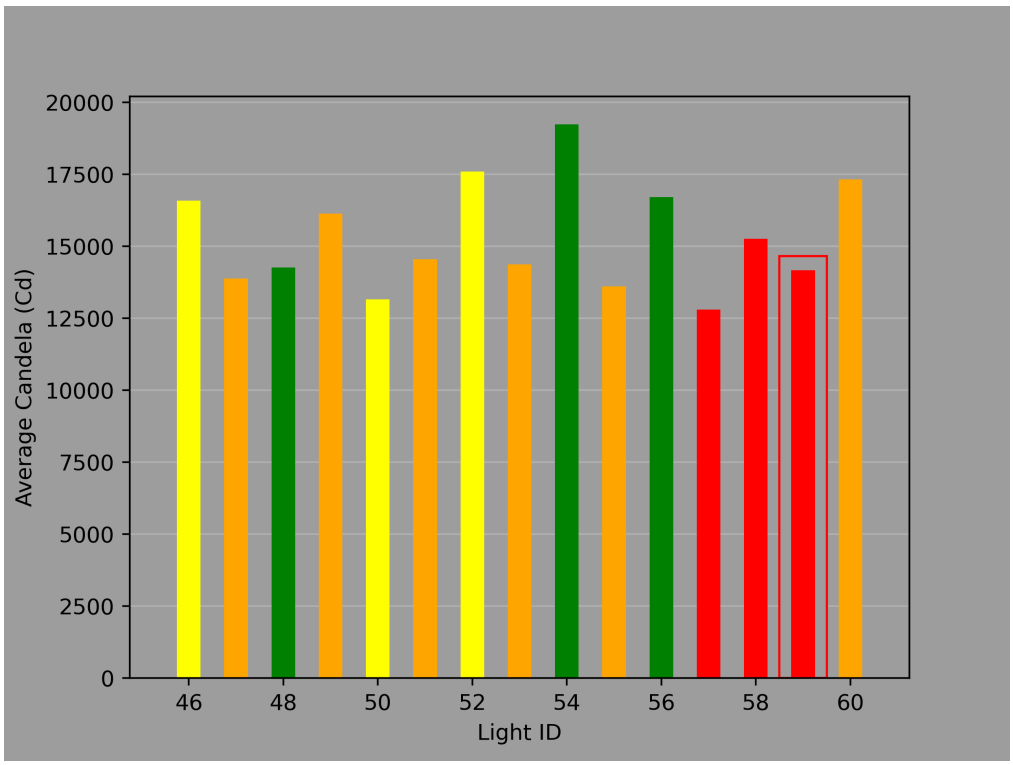

Betong International Airport

Report File Name: 07000178.pac **Date of Report:** 21/06/2021 **Time of Report:** 18:06:53

Way Name: RUNWAY EDGE - 07L **Agent:** FBT_Sp *(Not Cross Checked)*

Light ID	AVG(cd)	Max(cd)	%ICAO	Distance	C	S
61	17071.09250	21316.67	101.53	1.15	Y	✓
62	13689.09875	20495.25	189.08	0.74	G	✗
63	14718.89000	20128.43	132.19	1.67	Y	✗
64	14782.04250	20170.54	47.49	1.10	W	✓
65	14553.45125	21282.70	155.44	1.15	G	✗
66	14646.39625	21903.74	128.53	1.58	W	✗
67	13593.53250	21350.40	126.06	0.67	Y	✗
68	11417.75375	15872.77	129.61	1.42	R	✓
69	17452.67625	21192.56	172.92	1.46	R	✓
70	15255.01875	20405.12	57.71	1.11	G	✗
71	16232.52250	21916.94	51.99	0.77	Y	✓
72	14691.15375	21536.64	91.77	1.64	G	✗
73	14884.43375	20727.40	40.06	0.54	G	✗
74	14993.03500	21904.34	52.18	0.66	W	✓
75	14235.69750	21760.72	198.94	1.19	W	✗

Light Color Caption:
red green yellow white undefined

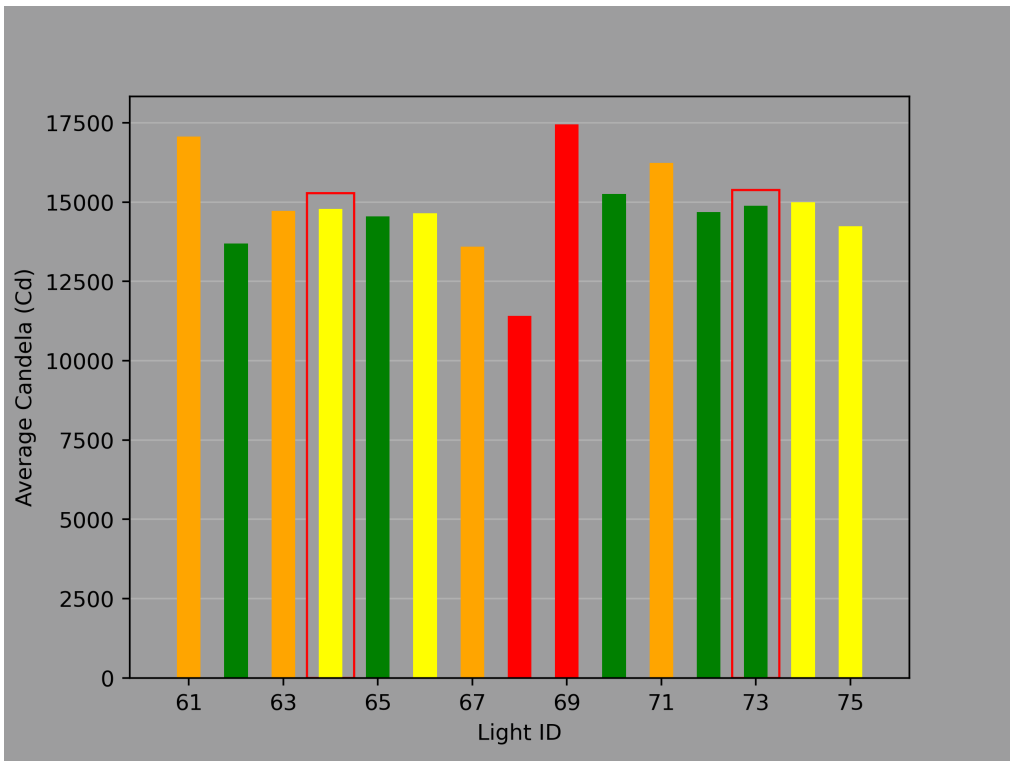

Betong International Airport

Report File Name: 07000178.pac **Date of Report:** 21/06/2021 **Time of Report:** 18:06:53

Way Name: RUNWAY EDGE - 07L **Agent:** FBT_Sp *(Not Cross Checked)*
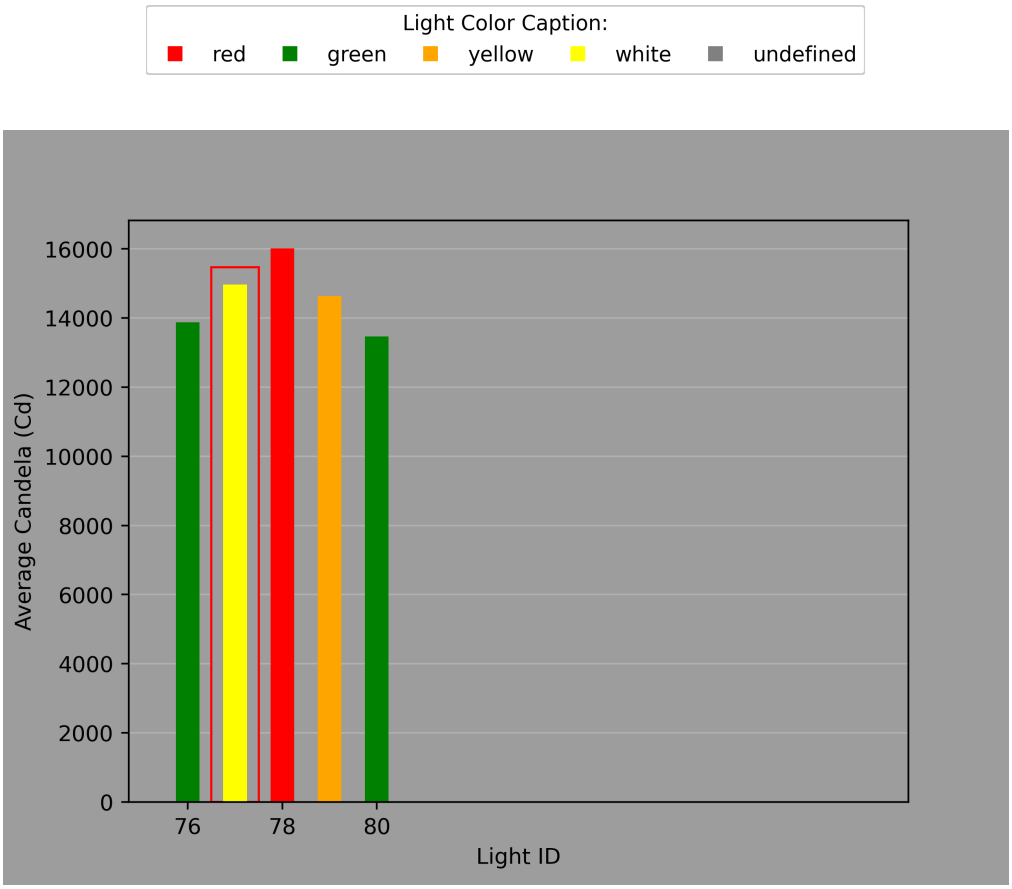
Light ID	AVG(cd)	Max(cd)	%ICAO	Distance	C	S
76	13881.97625	18056.29	178.03	0.83	G	✗
77	14971.39875	18101.42	40.68	0.88	W	✓
78	16017.79250	21710.56	190.93	0.83	R	✓
79	14641.26750	19924.62	138.13	0.74	Y	✗
80	13469.99375	19715.05	77.15	1.17	G	✗