Betong International Airport

Report File Name: 07000178.pac **Date of Report:** 20/06/2021 **Time of Report:** 16:50:15

Way Name: RUNWAY EDGE - 07L **Agent:** FBT_Sp *(Not Cross Checked)*

Light ID	AVG(cd)	Max(cd)	%ICAO	Distance	C	S
1	15503.74000	20724.07	107.34	0.85	G	✗
2	16725.51500	20512.80	82.91	0.96	Y	✓
3	12922.94875	19523.26	116.66	0.76	G	✗
4	16034.38625	18826.88	54.98	0.66	G	✗
5	17199.41125	21713.33	104.59	1.04	R	✓
6	13953.31125	18200.56	51.32	0.81	G	✗
7	15479.81750	19865.86	153.19	1.57	W	✓
8	15833.02500	20540.47	174.43	0.55	R	✗
9	15934.95250	20528.27	141.77	1.22	R	✓
10	14771.97750	21470.23	131.51	0.94	G	✗
11	16778.68125	21649.51	132.87	1.19	G	✓
12	14198.52875	17627.68	146.84	1.51	R	✗
13	14648.57250	20798.68	69.02	0.63	Y	✓
14	13779.47250	18166.66	131.35	1.74	R	✗
15	13971.59875	20721.34	49.59	1.14	R	✓

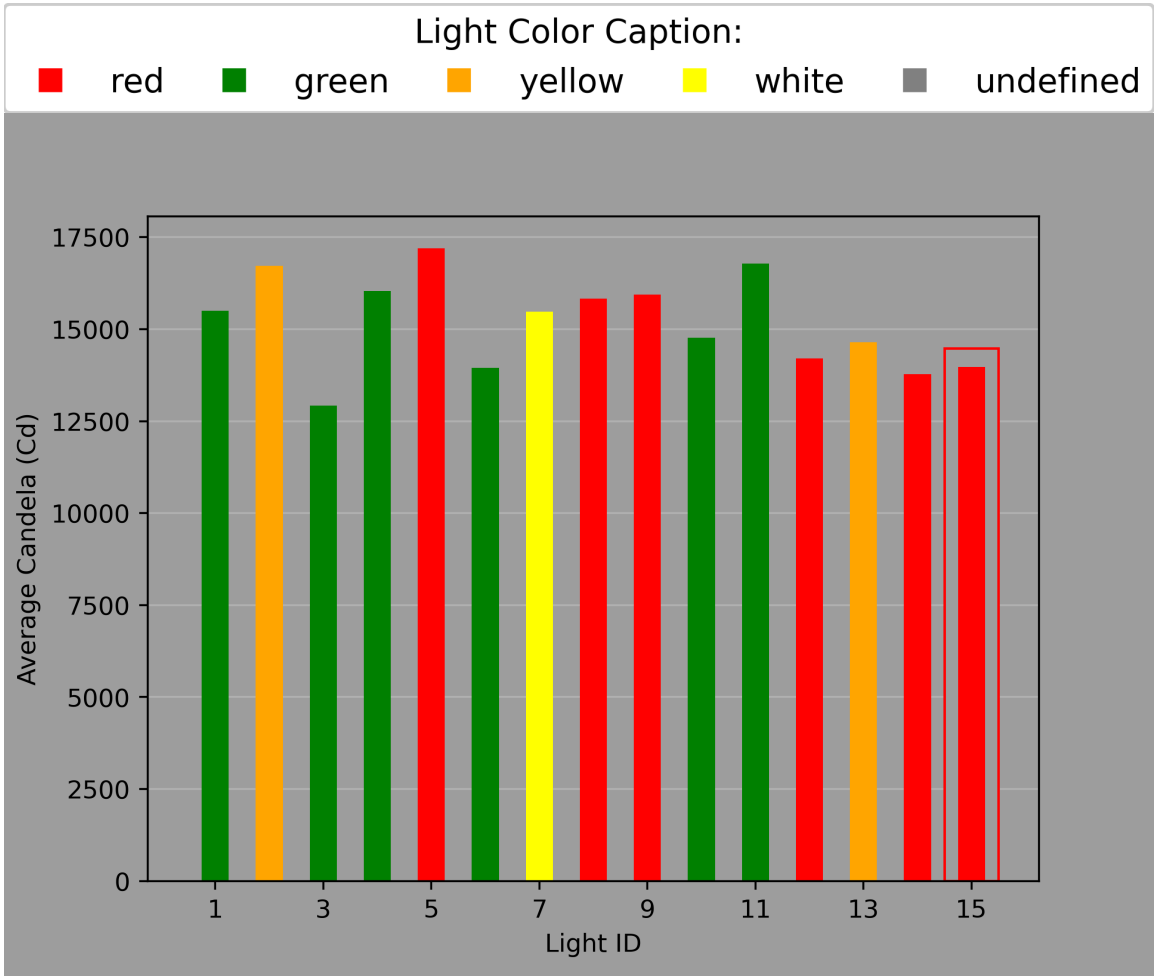

Betong International Airport

Report File Name: 07000178.pac **Date of Report:** 20/06/2021 **Time of Report:** 16:50:16

Way Name: RUNWAY EDGE - 07L **Agent:** FBT_Sp *(Not Cross Checked)*

Light ID	AVG(cd)	Max(cd)	%ICAO	Distance	C	S
16	14725.71625	19883.11	139.46	0.59	Y	✓
17	15290.84250	20478.21	117.08	0.65	R	✗
18	15335.58750	21643.96	141.53	1.70	Y	✗
19	14655.75875	19976.98	40.18	1.44	W	✗
20	14810.78750	21765.07	63.49	0.56	G	✗
21	15159.51375	21139.36	117.90	1.41	Y	✓
22	15513.24375	21482.07	80.41	1.44	Y	✓
23	14003.68750	21760.47	151.61	1.42	W	✓
24	14772.14750	20562.95	100.72	0.54	G	✗
25	13855.06250	21597.06	189.15	0.80	R	✗
26	12632.34000	20925.51	60.72	1.02	W	✓
27	17361.88000	21684.51	77.08	0.98	R	✓
28	15495.07625	20676.61	180.79	0.86	W	✗
29	14487.42750	19255.53	117.92	0.77	Y	✗
30	15177.53250	20915.49	141.98	1.26	W	✓

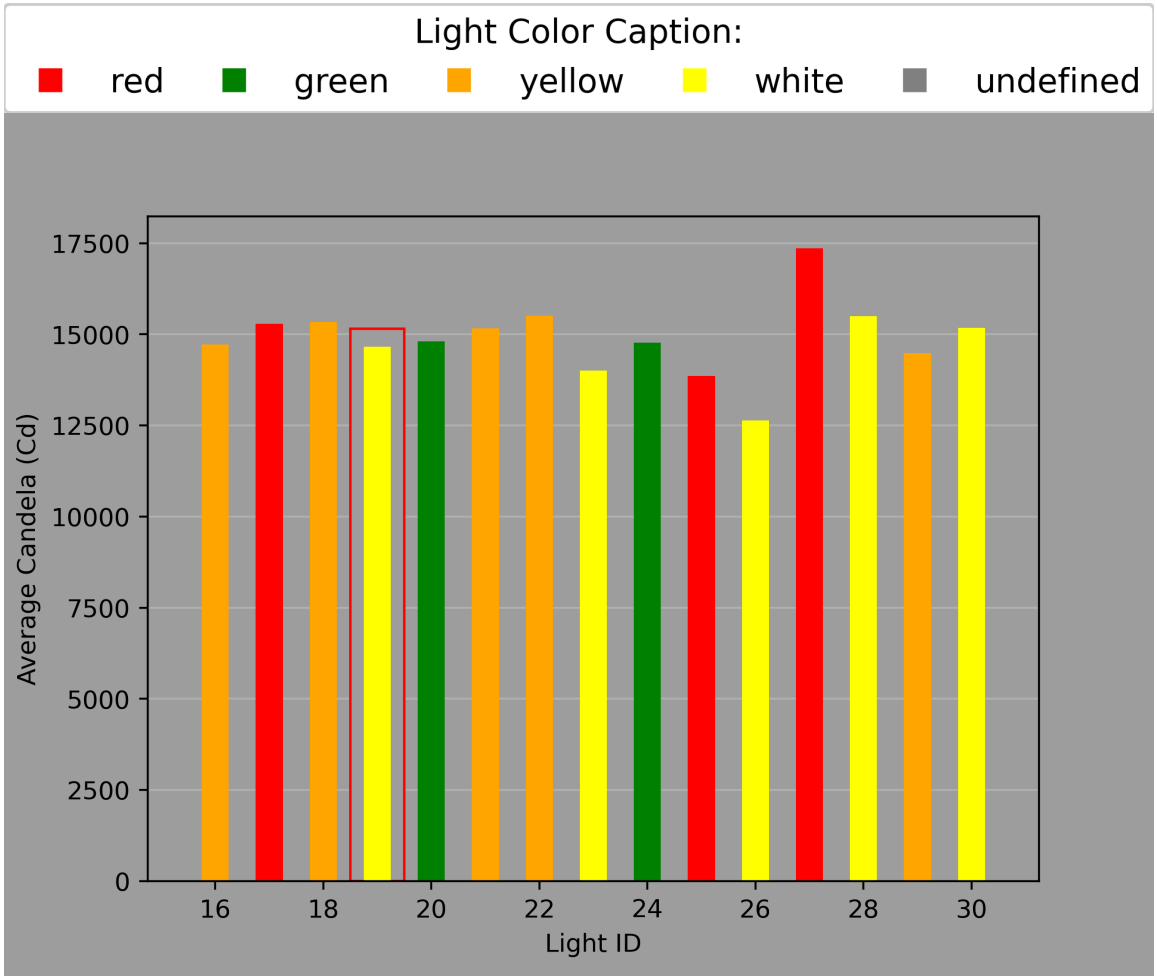

Betong International Airport

Report File Name: 07000178.pac **Date of Report:** 20/06/2021 **Time of Report:** 16:50:17

Way Name: RUNWAY EDGE - 07L **Agent:** FBT_Sp *(Not Cross Checked)*

Light ID	AVG(cd)	Max(cd)	%ICAO	Distance	C	S
31	15306.70875	20788.44	89.98	1.51	R	✓
32	14263.35375	20856.57	191.88	0.89	G	✓
33	15103.05375	21999.12	105.53	0.84	Y	✗
34	15579.02375	20995.23	107.66	0.81	R	✗
35	12735.98625	17869.45	189.03	0.92	W	✓
36	17414.55750	21566.68	133.38	0.63	G	✓
37	13045.73000	20327.16	61.23	0.61	G	✗
38	12689.13750	19868.88	60.05	1.36	G	✗
39	16673.42000	20811.32	81.62	0.63	R	✗
40	14967.21500	21809.44	134.55	1.71	G	✗
41	14561.19875	19335.81	45.70	1.55	G	✓
42	17101.96875	21820.59	108.49	1.63	R	✗
43	16002.33250	20891.50	160.66	0.66	G	✓
44	15017.86000	20237.37	84.27	1.45	W	✓
45	14336.62875	18668.07	47.88	1.72	R	✗

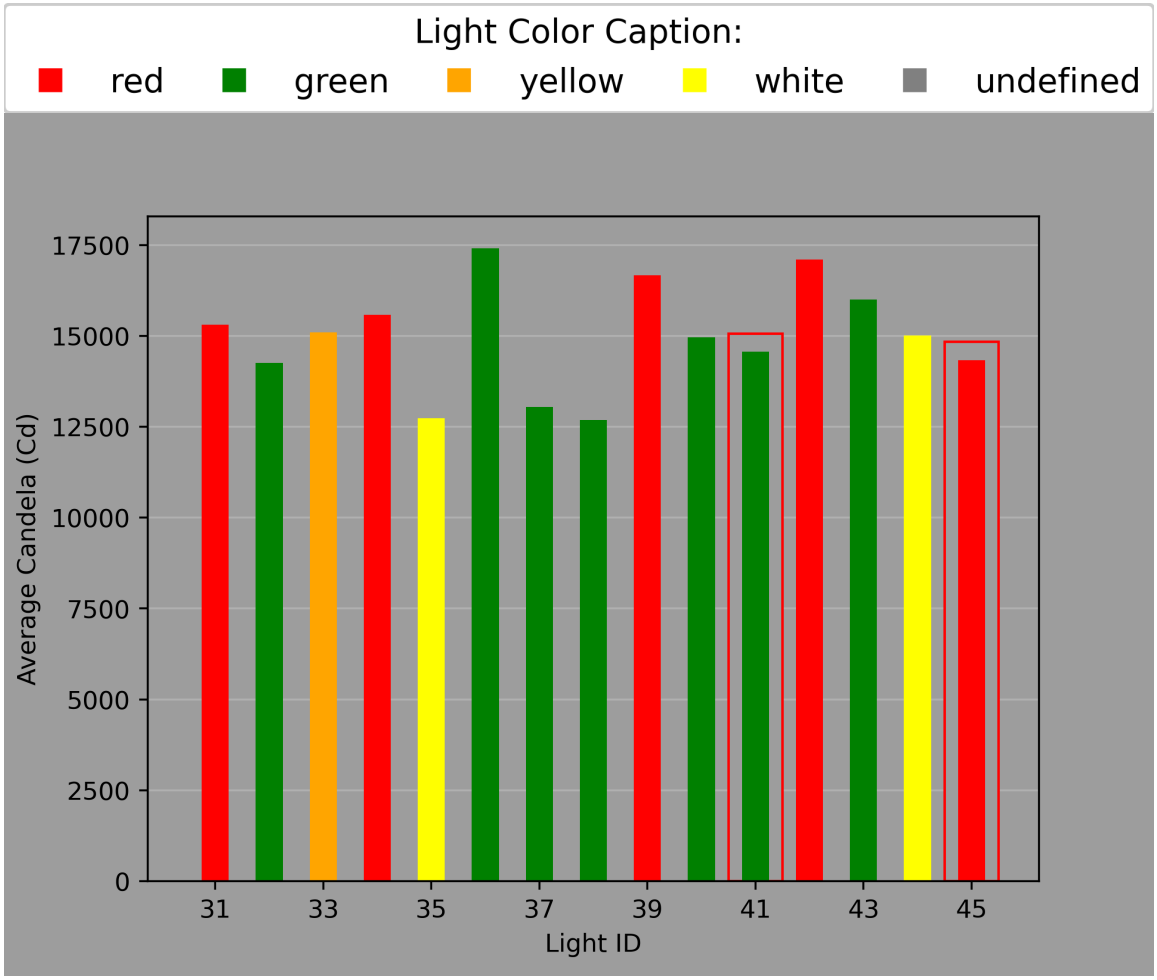

Betong International Airport

Report File Name: 07000178.pac **Date of Report:** 20/06/2021 **Time of Report:** 16:50:18

Way Name: RUNWAY EDGE - 07L **Agent:** FBT_Sp *(Not Cross Checked)*
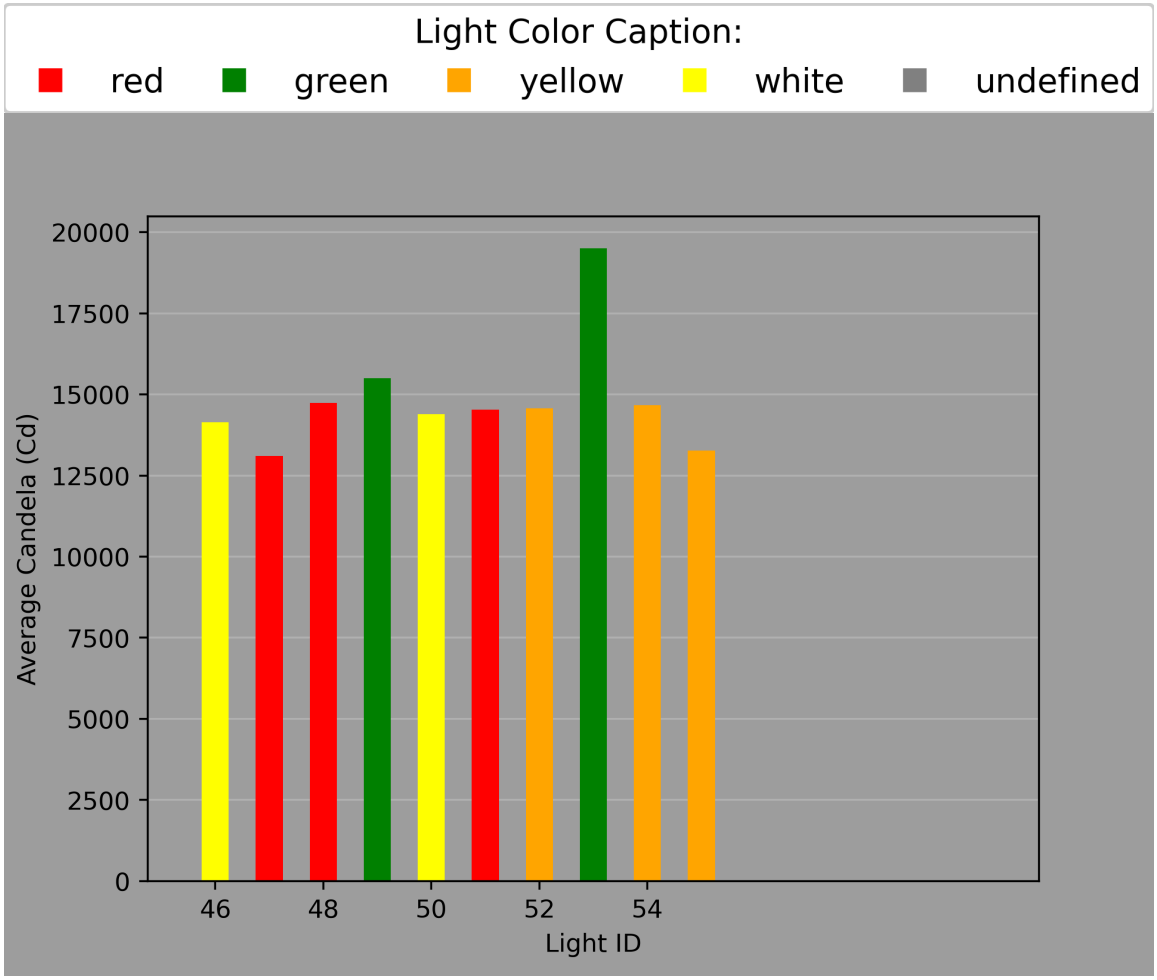
Light ID	AVG(cd)	Max(cd)	%ICAO	Distance	C	S
46	14139.13000	19628.87	104.21	1.19	W	✗
47	13105.23500	19310.36	71.88	0.98	R	✗
48	14741.68875	20357.11	120.16	0.69	R	✓
49	15494.50000	19900.62	64.96	1.04	G	✗
50	14396.23125	21464.23	69.85	0.83	W	✓
51	14533.87500	20622.36	126.20	0.74	R	✗
52	14569.12000	20891.27	164.72	0.83	Y	✗
53	19505.90625	21999.65	107.32	0.96	G	✓
54	14674.47750	19029.76	90.44	1.04	Y	✓
55	13272.91875	21517.74	158.92	0.52	Y	✓